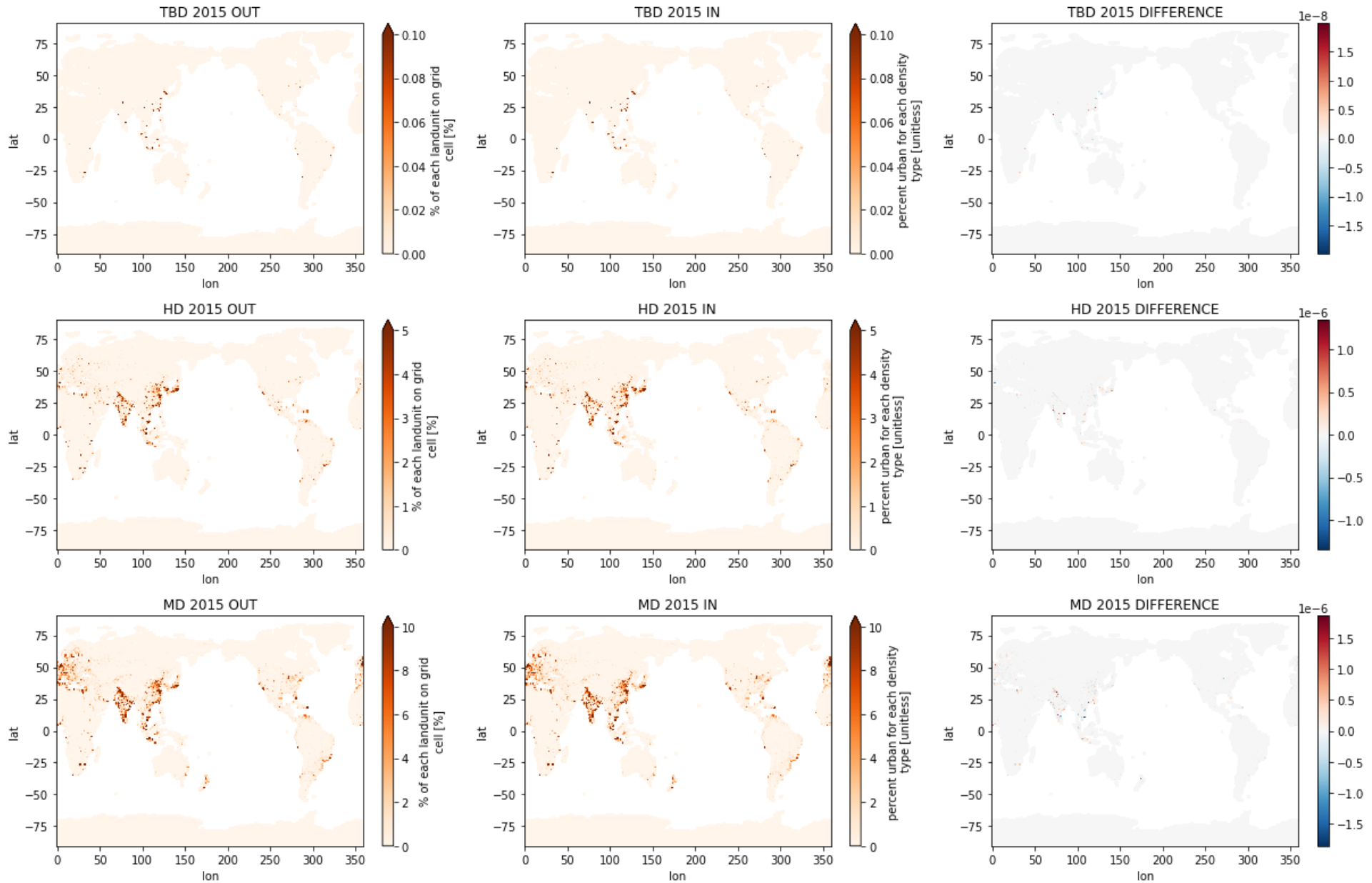
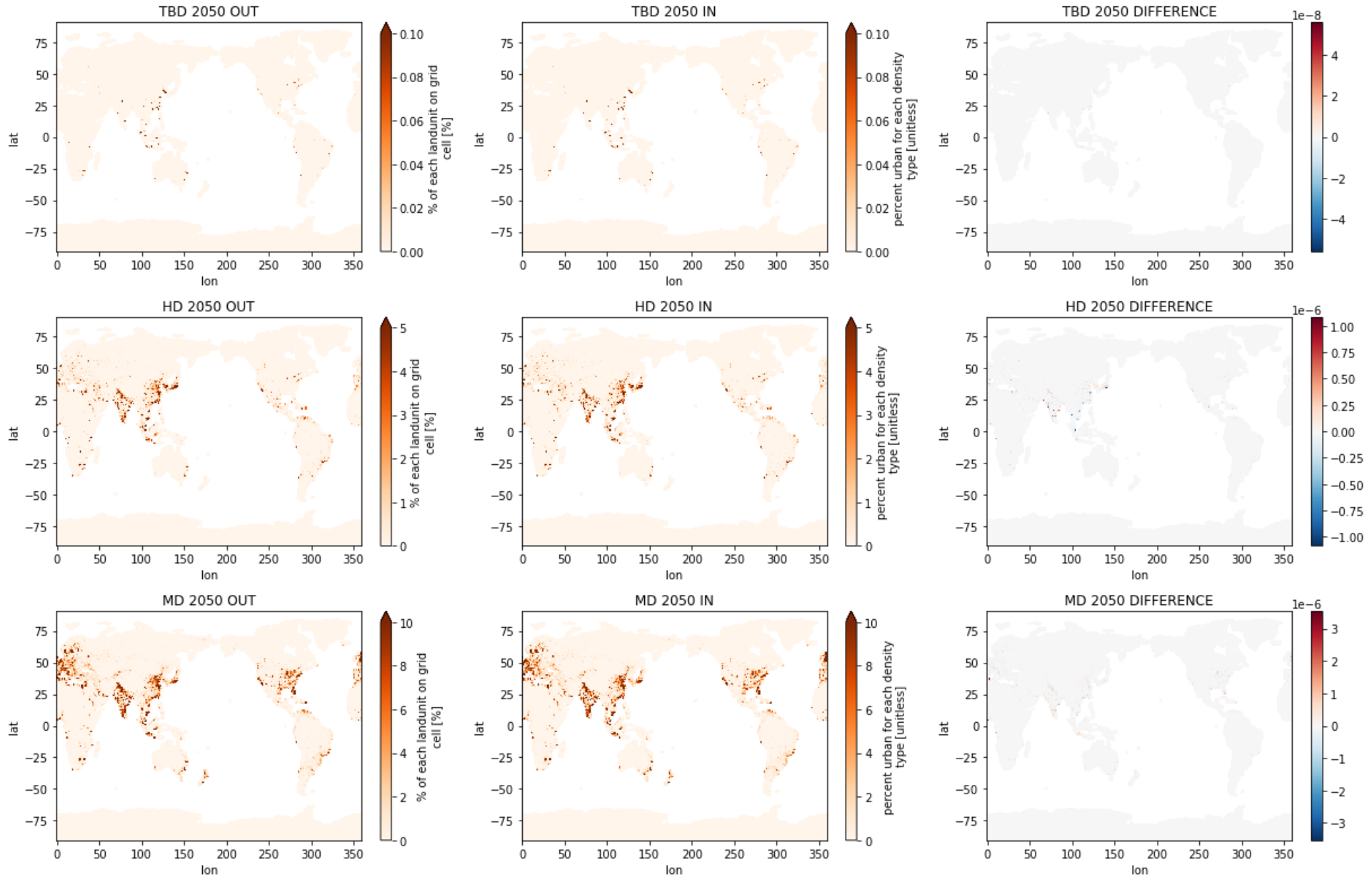


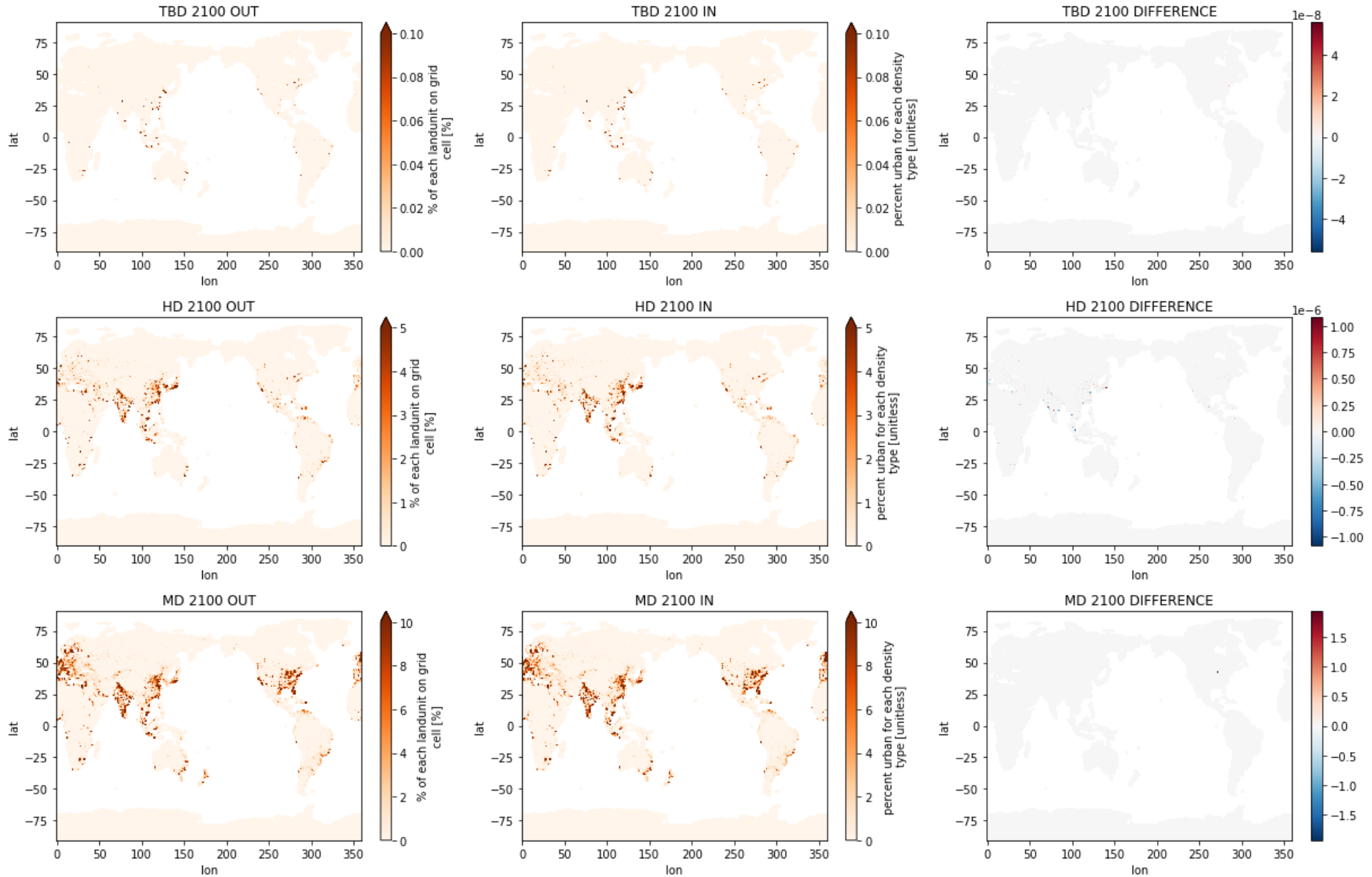
# Percentage of Different Urban Density Types in Output (left), Input (middle) and Difference (right). Year 2015.



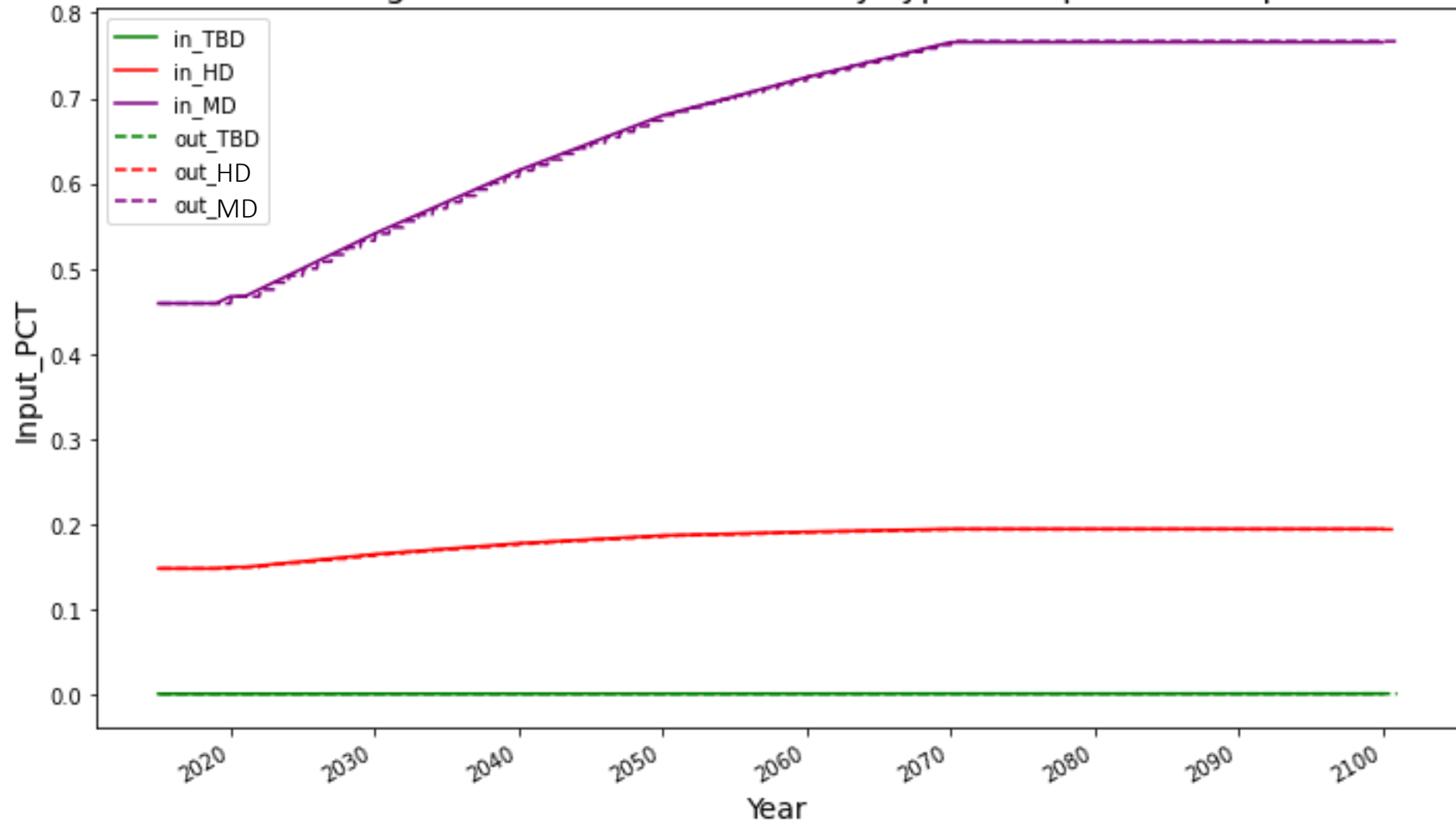
# Percentage of Different Urban Density Types in Output (left), Input (middle) and Difference (right). Year 2050.



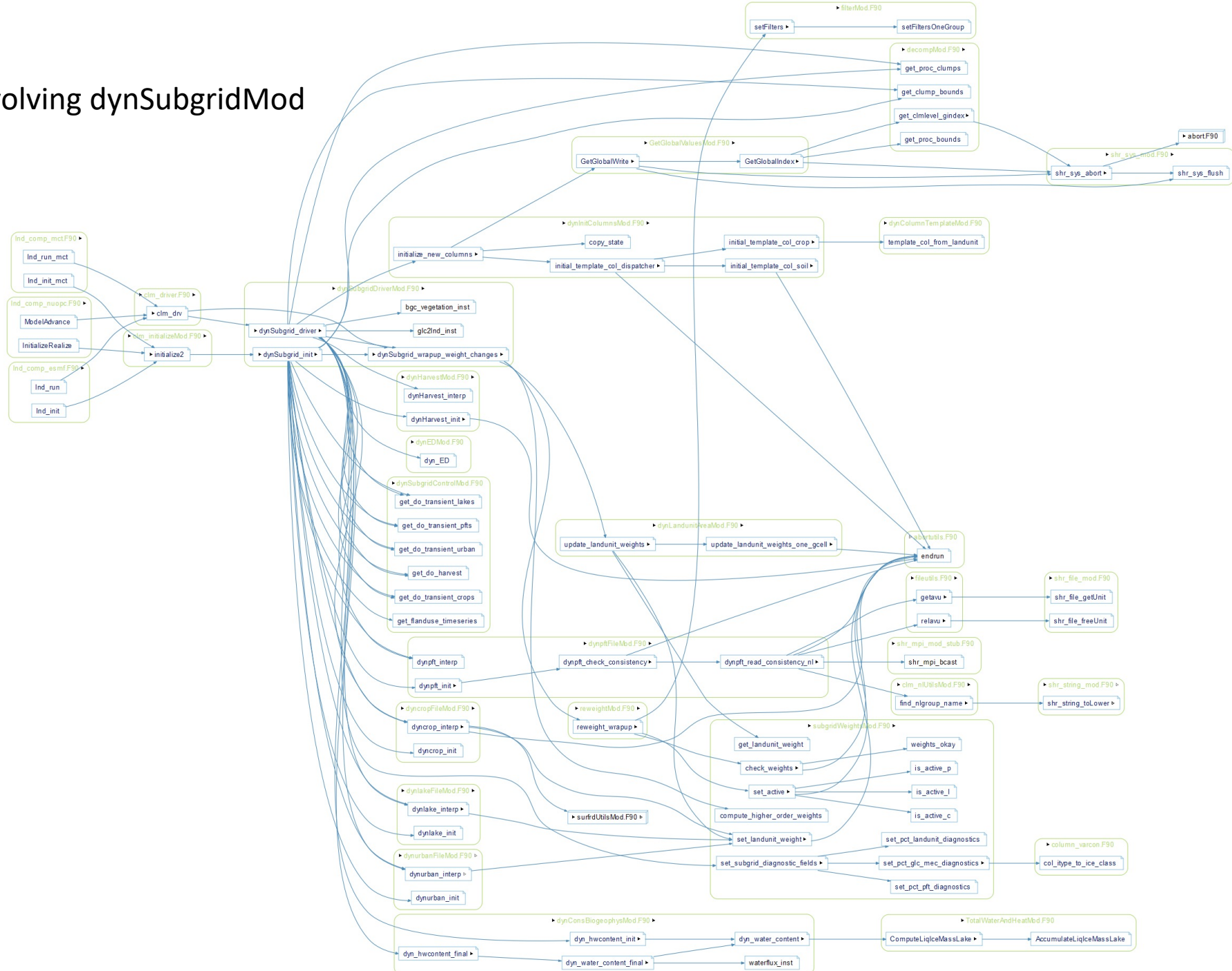
# Percentage of Different Urban Density Types in Output (left), Input (middle) and Difference (right). Year 2100.



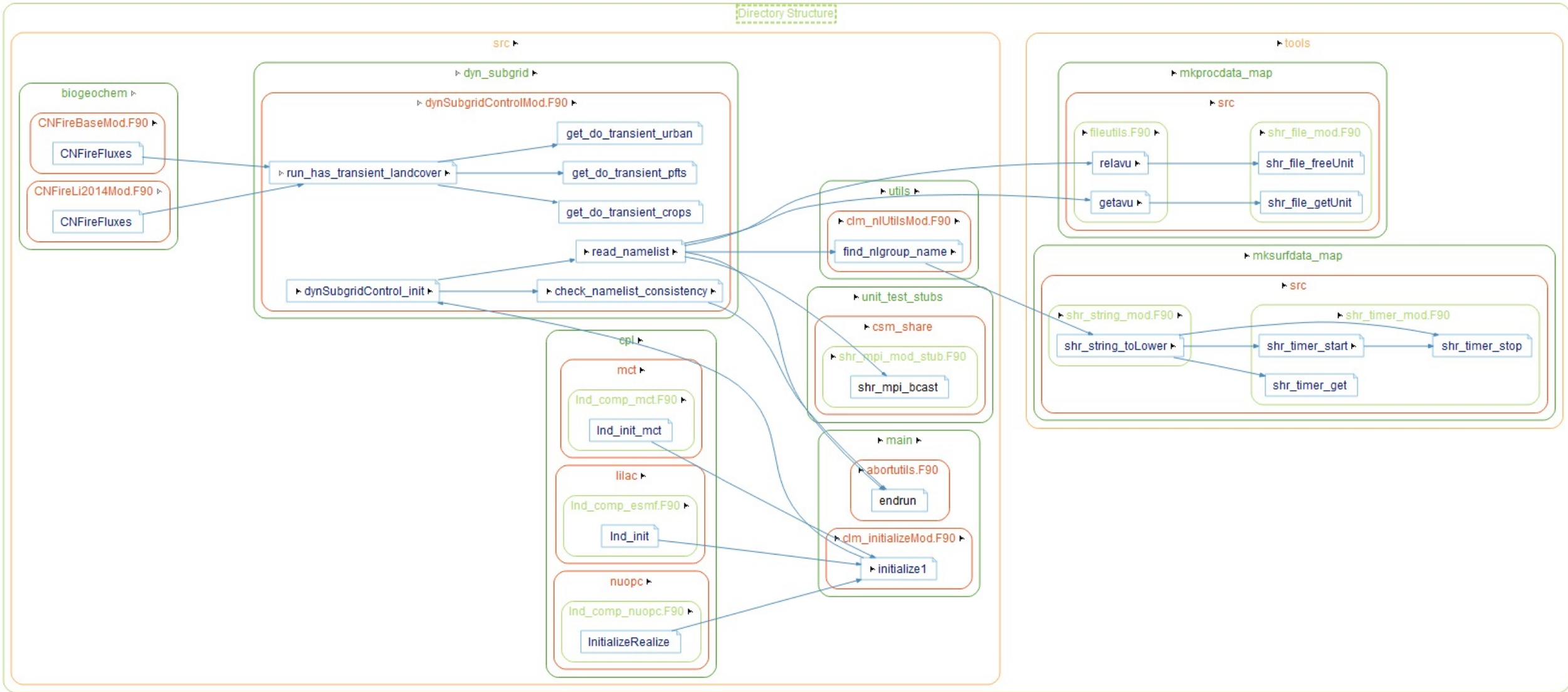
Percentage of Different Urban Density Types in Input and Output



# Modules involving dynSubgridMod

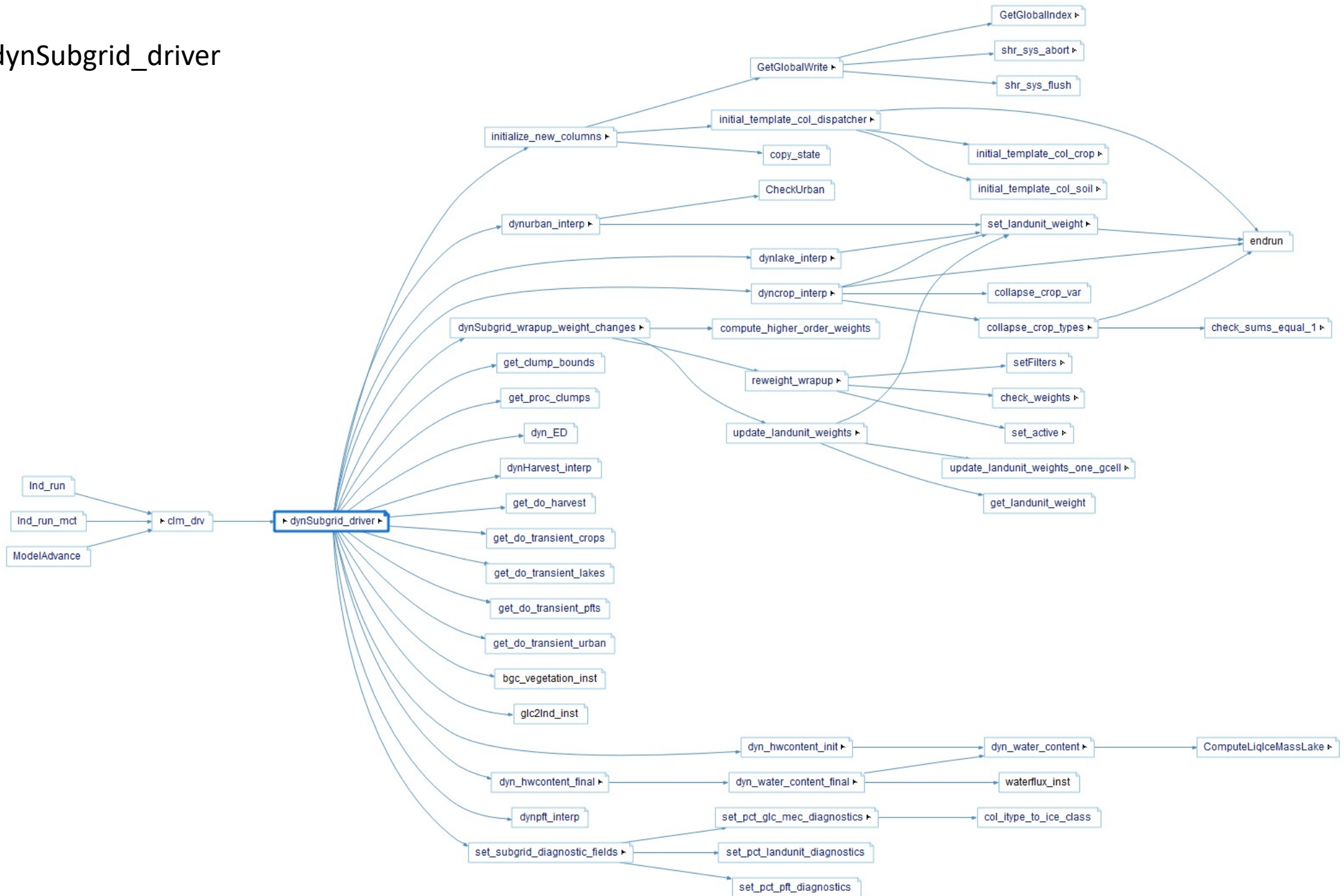


# dynSubgrid: initialization process overview





# dynSubgrid\_driver



# dynSubgrid\_init

